Job # 51112001
Seq # 260744339

Provided by PLUS ES

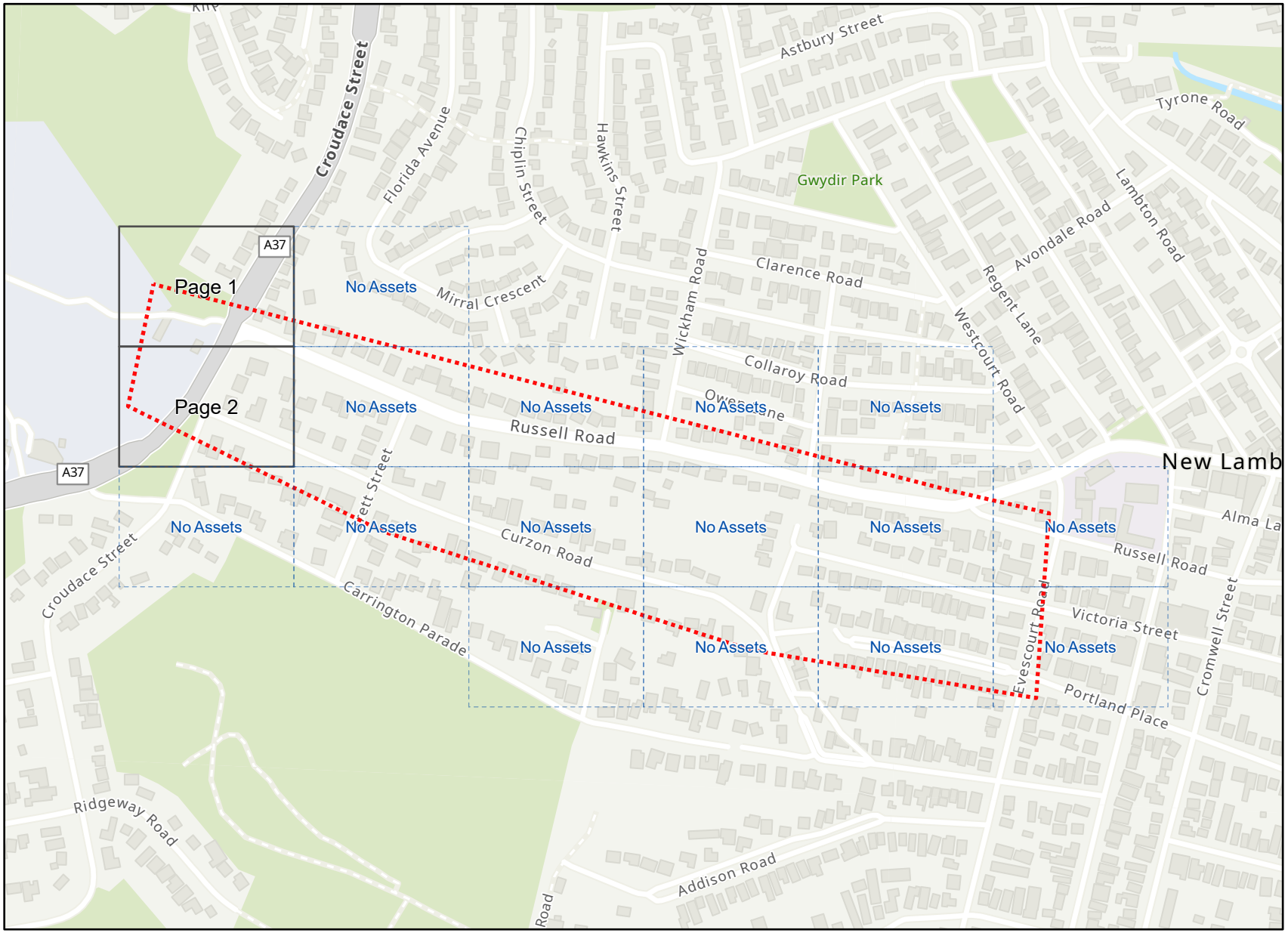

Legend

- BYDA Enquiry
- Detailed map page
- No dig site assets

Esri Community Maps Contributors, © OpenStreetMap, Microsoft, Esri, TomTom, Garmin, METI/NASA, USGS

Disclaimer: The Plan is provided in response to a Before You Dig Australia request. While all reasonable care has been taken to ensure the accuracy of the information on this plan, its purpose is to provide a general indication of the location of PLUS ES infrastructure. The information provided may contain errors or omissions and the accuracy may not suit all users. A site inspection and investigation is recommended before commencement of any project based on this data.

In an emergency contact PLUS ES on 02 8569 6265

Index Sheet

Plans generated by SmarterWX™ Automate

0 70 140 280 m

N

Scale 1:6,500

Job # 51112001
Seq # 260744339
Provided by PLUS ES

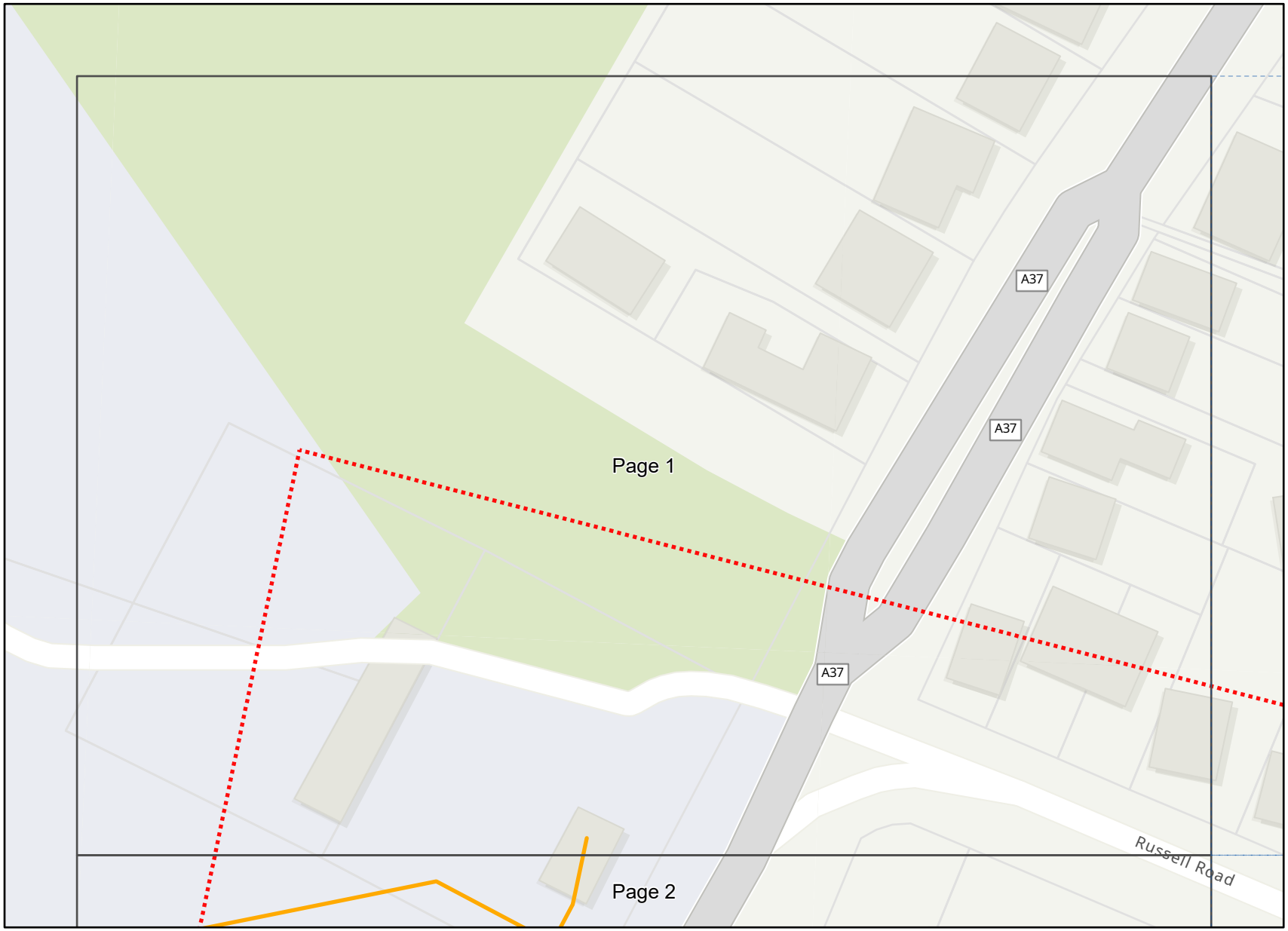

Legend

- BYDA Enquiry
- PES Pit
- PES Underground Route

Esri Community Maps Contributors, Spatial Services, © OpenStreetMap, Microsoft, Esri, TomTom, Garmin, METI/NASA, USGS

Disclaimer: The Plan is provided in response to a Before You Dig Australia request. While all reasonable care has been taken to ensure the accuracy of the information on this plan, its purpose is to provide a general indication of the location of PLUS ES infrastructure. The information provided may contain errors or omissions and the accuracy may not suit all users. A site inspection and investigation is recommended before commencement of any project based on this data.

In an emergency contact PLUS ES on 02 8569 6265
07/09/25 (valid for 30 days)
Plans generated by SmarterWX™ Automate

0 10 20 40 m

N

Scale 1:1,000

Job # 51112001
Seq # 260744339
Provided by PLUS ES

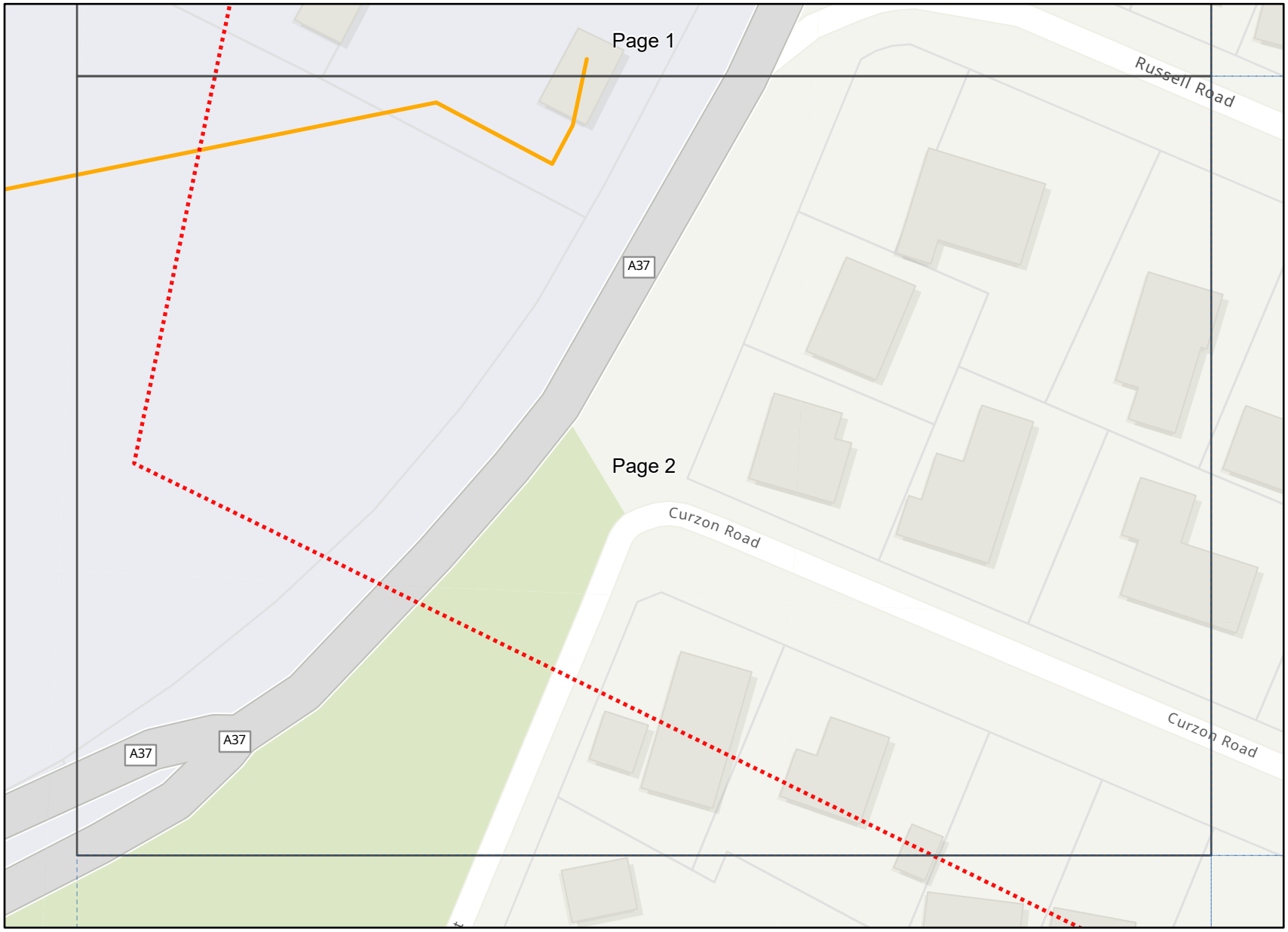

Legend

- BYDA Enquiry
- PES Pit
- PES Underground Route

Esri Community Maps Contributors, Spatial Services, © OpenStreetMap, Microsoft, Esri, TomTom, Garmin, METI/NASA, USGS

Disclaimer: The Plan is provided in response to a Before You Dig Australia request. While all reasonable care has been taken to ensure the accuracy of the information on this plan, its purpose is to provide a general indication of the location of PLUS ES infrastructure. The information provided may contain errors or omissions and the accuracy may not suit all users. A site inspection and investigation is recommended before commencement of any project based on this data.

In an emergency contact PLUS ES on 02 8569 6265
07/09/25 (valid for 30 days)
Plans generated by SmarterWX™ Automate

0 10 20 40 m

N

Scale 1:1,000